Copernicus Marine Service

QUALITY INFORMATION DOCUMENT

Sea Ice Thematic Assembly Centre

SEAICE_GLO_SEAICE_L4_NRT_OBSERVATIONS_011_001
SEAICE_GLO_SEAICE_L4_REP_OBSERVATIONS_011_009

Issue: 1.1

Contributors: S. Eastwood and C. Wettre (MET Norway)

Approval date by the CMEMS product quality coordination team: 04/03/2026

CHANGE RECORD

When the quality of the products changes, the QuID is updated, and a row is added to this table.

The third column specifies which sections or sub-sections have been updated. The fourth column should mention the reason for updating the document. Column 5 should include the names of the author(s) doing the changes. Including the name in column 6 shows that the document has been validated by the TAC/MFC PQ leader or deputy (or TAC/MFC PQ leader or the deputy). This validation means the document was checked for contents, formats and consistency with other documents.

Issue	Date	§	Description of Change	Author	Validated By
1.0	15.09.2023		Creation of the document. The previous document included many Sea Ice TAC products and was split (CMEMS-SI-QUID-011-001to007-009to015-019-V2.17)	Steinar Eastwood, MET-Norway	C. Wettre
1.1	12.11.2025		Added two new datasets	Steinar Eastwood, MET Norway	C. Wettre

ACRONYM TABLE

Acronym	Description
CDR	Climate Data Record
MYI	Multi-year ice
NH	Northern Hemisphere
NRT	Near Real Time
SI TAC	Sea Ice Thematic Assembly Centre
SH	Southern Hemisphere
OSI SAF	EUMETSAT Ocean and Sea Ice Satellite Application Facility

KEY DEFINITIONS

N/A

RELEVANT DOCUMENT LIST

Document title	Document link
OSI SAF sea ice concentration validation report	https://osi-saf.eumetsat.int/products/osi-401-d
OSI SAF sea ice edge validation report	https://osi-saf.eumetsat.int/products/osi-402-d
OSI SAF sea ice type validation report	https://osi-saf.eumetsat.int/products/osi-403-d
OSI SAF LR sea ice drift validation report	https://osi-saf.eumetsat.int/products/osi-405-c
OSI SAF sea ice concentration climate data record validation report	https://osi-saf.eumetsat.int/products/osi-450-a1
OSI SAF sea ice concentration climate data record validation report	https://osi-saf.eumetsat.int/products/osi-458

TABLE OF CONTENTS

ACRONYM TABLE *3*

KEY DEFINITIONS *3*

RELEVANT DOCUMENT LIST *3*

I Executive summary *5*

I.1 Products covered by this document **5**

I.2 Summary of the results **5**

I.2.1 Global near real time sea ice L4 – concentration, edge, type, drift 5

I.2.2 Global sea ice concentration climate data record time series 6

I.3 Estimated Accuracy Numbers **6**

II Production system description *7*

II.1 Global near real time sea ice L4 – concentration, edge, type, drift **7**

II.2 Global sea ice concentration climate data record time series **8**

III Validation framework *9*

IV Validation results *10*

IV.1 Global NRT sea ice products **10**

IV.1.1 Validation procedure 13

IV.1.2 Validation results 13

V System's Noticeable events, outages or changes *15*

VI Quality changes since previous version *16*

I EXECUTIVE SUMMARY

I.1 Products covered by this document

There are two products presented in this document:

SEAICE_GLO_SEAICE_L4_NRT_OBSERVATIONS_011_001: Global Near Real Time (NRT) sea ice concentration, edge, type and drift products from EUMETSAT Ocean and Sea Ice Satellite Application Facility (OSI SAF, https://osi-saf.eumetsat.int/), redistributed by Copernicus Marine and Environment Monitoring Service (CMEMS) Sea Ice Thematic Assembly Centre (SI TAC).

SEAICE_GLO_SEAICE_L4_REP_OBSERVATIONS_011_009: Global reprocessed sea ice time series from EUMETSAT OSI SAF, redistributed by CMEMS SI TAC. CMEMS keeps a two-year archive of these products.

The products are daily and cover the northern and southern hemisphere in separate files.

I.2 Summary of the results

I.2.1 Global near real time sea ice L4 – concentration, edge, type, drift

These are the OSI SAF global NRT sea ice products, redistributed by CMEMS SI TAC.

Within this product there are four sea ice variables:

Concentration: For the weekly validation of the concentration product the OSI SAF Service Specifications (https:://osi-saf.eumetsat.int/documentation/project-documentation) requires the product to have a mean annual bias and standard deviation less than 10 % ice concentration in the Northern Hemisphere. For the Southern Hemisphere the concentration product is required to have a bias and standard deviation less than 15%. These requirements are met with good margins especially during winter. The ice concentration has a negative bias between 1 and 5 % during winter. In the Arctic from May to August, which is the summer period in the Northern Hemisphere, the bias increases to around 10% mainly due to ambiguous open water due to melt ponds on the ice.

Edge: The ice edge validations show that the mean difference to the ice edge in Northern Hemisphere (NH) winter is around 10 km, and 15-20 km in Southern Hemisphere (SH). In summer this can increase to above 20 km in NH and 45 km in SH.

Drift: The validation of the ice drift product in the Arctic reveals an annual mean standard deviation of 2-3 km over a period of 48 hours in both drift components. This is done by comparing with the drift of in situ buoys on the ice.

Type: The quality of the OSI SAF sea ice type product is monitored on a half yearly basis and presented in the half yearly OSI SAF validation reports (https://osi-saf.eumetsat.int/documentation/project-documentation). The quality monitoring is done as a monitoring of the monthly variation of the multi-year ice area coverage. The monthly standard deviation (STD) in the difference from the running mean of the multi-year ice (MYI) area coverage shall be below 100,000km^2 to meet the target accuracy requirement (OSI SAF Service Specifications).

I.2.2 Global sea ice concentration climate data record time series

The following data are OSI SAF global sea ice concentration climate data record (CDR and ICDR) time series, redistributed by CMEMS SI TAC. There are two sets of CDR/ICDRs from OSI SAF:

1. CDR (OSI-458) and ICDR (OSI-438) based on AMSR-E and AMSR2 data. This CDR covers the period from 01.06.2002 to 31.12.2020. The ICDR covers the period from 01-01-2021 to present, with 16 days latency.

2. CDR (OSI-450-a1) and ICDR (OSI-430-a) based on SMMR, SSM/I and SSMIS data. This CDR covers the period from 25-10-1978 to 31-12-2020. The ICDR covers the period from 01-01-2021 to 30-09-2025.

The OSI SAF global sea ice concentration climate data record is compared to the National Ice Center (NIC, USA) ice charts (https://usicecenter.gov/), using only “ice” and “water” cases.

There are three requirements on accuracy: 1) threshold accuracy 15% (yearly average), 2) target accuracy 8% (yearly average), and 3) optimal accuracy 5% (yearly average). All requirements on accuracy are met in the comparison with ice charts for Northern Hemisphere. For Southern Hemisphere the requirement over water is met, but over ice it is 10%, so a bit above requirement. The deviations between the ice product and the ice charts are large during summer melt, up to 20% on both hemispheres, while during the winter the deviations are 5-10%. It is clear that the NIC ice charts do not necessarily represent the truth, but rather a fairly independent dataset for comparison.

For more information, please see the OSI SAF documentation for these products here: https://osisaf-hl.met.no/sites/osisaf-hl/files/user_manuals/osisaf_cdop3_ss2_pum_sea-ice-conc-climate-data-record_v3p3.pdf .

I.3 Estimated Accuracy Numbers

The accuracy units and metrics are given in Table 1.

Table 1: Accuracy units and metrics.

Variable	Units	Metrics	Metric values
concentration	%	Mean difference in ice concentration for 0% and > 95% concentrations	For SIC=0%: 0.94 For SIC>95%: -4.1
edge	km	Mean difference in ice edge distance	16.2
type	km^2	Monthly standard deviation of multi-year sea ice area variability	56,000
drift	km	Standard deviation	3.8

II PRODUCTION SYSTEM DESCRIPTION

II.1 Global near real time sea ice L4 – concentration, edge, type, drift

The NRT global sea ice products (concentration, edge, type, drift) and a multi-year time series (concentration) from the EUMETSAT Ocean and Sea Ice Satellite Application Facility (https://osi-saf.eumetsat.int) are redistributed by CMEMS. These products are produced independently of CMEMS and are delivered through CMEMS by agreement between EUMETSAT and CMEMS.

Concentration: There are two sea ice concentration products, one based on SSMIS and one based on AMSR2. The analysis is a 2-step procedure. In the first step ice concentration is calculated in the swath projection for each satellite pass. SSMIS/AMSR2 ice concentration is calculated using a combination of the Bristol algorithm and the Bootstrap frequency mode algorithm. In the second step, the multi pass analysis, these results are analyzed on the 10 km OSI SAF grid. Several SSMIS/AMSR2 observation nodes, with estimated concentrations, influence each analysis grid point. For more details visit https://osi-saf.eumetsat.int/products/osi-401-d.

Edge: The OSI SAF ice edge product uses the three SSMIS parameters, PR(19), GR(19,37) and PR(91) and the ASCAT parameter anisFMB. In the first step ice class (closed ice, open ice, and water) -probabilities are estimated on the satellite swath projection for each passage. For SSMIS the low resolution data PR(19), GR(19,37) are combined. In the second step the ice class probabilities for each parameter are estimated on the OSI SAF 10 km grid on one day of data. The result is three probability estimates that are combined in a Bayesian approach. For more details visit https://osi-saf.eumetsat.int/products/osi-402-d.

Type: The OSI SAF ice type product uses the AMSR2/SSMIS parameter GR(19,37) and the ASCAT backscatter parameter. In the first step ice class (first year ice and multi-year ice) probabilities are estimated on the satellite swath projection for each pass, in all areas where the ice edge product from the same day shows there is ice. In the second step the ice class probabilities for each parameter are estimated on the OSI SAF 10 km grid on one day of data. The result is two probability estimates that are combined in a Bayesian approach. Fore more details visit https://osi-saf.eumetsat.int/products/osi-403-d.

Drift: Low resolution ice drift datasets are computed on a daily basis from aggregated maps of passive microwave (e.g., AMSR2 and SSMIS) or scatterometer (ASCAT) signals. The typical resolution/spacing of those input images is 12.5 km. Wide swaths, high repetition rates and independence with respect to the atmospheric perturbations permit daily coverage of most of the sea ice covered regions. In summer, surface melting and a denser atmosphere preclude the retrieval of meaningful information. During fall, winter and spring, however, the excellent coverage makes it possible to extract 48-hour global ice drift vectors at a spatial resolution of 62.5 km.

The algorithm implemented in the OSI SAF chain is based on the CMCC (Continuous Maximum Cross Correlation) method, where pixel values in the sub-images are interpolated from those in the nominal pixels. At this stage, a simple bi-linear interpolation is implemented. This strategy allows the formulation of the image matching problem in a continuous formalism and thus strongly limits the quantization noise. For more details visit https://osi-saf.eumetsat.int/products/osi-405-d.

II.2 Global sea ice concentration climate data record time series

The OSI SAF global sea ice concentration climate data records (OSI-458 and OSI-450-a1) and interim climate data records (OSI-438 and OSI-430-a) are reprocessing of passive microwave data and are similar to the SEAICE_GLO_SEAICE_L4_NRT_OBSERVATIONS_011_001 product. These climate data records are produced by the EUMETSAT OSI SAF and delivered to CMEMS by MET Norway. They contain reprocessed sea ice concentration (0-100%). OSI-458 + OSI-438 cover the period from 01.06.2002 to present, with 16 days delay. OSI-450-a1 + OSI-430-a cover the period from 25.10.1978 to 30.09.2025. They are labelled SEAICE_GLO_SEAICE_L4_REP_OBSERVATIONS_011_009 in CMEMS.

III VALIDATION FRAMEWORK

The products described here are the global sea ice concentration, edge, type, and drift datasets that are operational products from EUMETSAT OSI SAF. They are delivered to CMEMS for redistribution in order to ease and enhance their use in operational oceanography. Validation of the data is carried out as an OSI SAF activity and is documented in OSI SAF validation reports, issued both for product updates and in half-yearly validation reports. These reports are available at: https://osi-saf.eumetsat.int/products/sea-ice-products

The validation reports for each of the OSI SAF sea ice products that currently are in the CMEMS global sea ice product is the main source of validation description and validation results. These reports are listed in Table 6: Relevant documents. The OSI SAF products are continuously validated in half-yearly validation reports, which are available here: https://osi-saf.eumetsat.int/documentation/project-documentation.

The following sections present some recent results of the validation activities. For more detailed information, the reader is directed to the documents in Table 6.

Validation Procedures:

- Sea Ice Concentration is validated against 2D gridded data sets (operational Ice Service data from NIC, DMI and MET Norway). The results are given in terms of error estimates: *STD,* and *bias* of ice concentration.
- Sea Ice edge is validated against 2D gridded data sets (operational Ice Service data from DMI and MET Norway). The results are given in terms of *mean distance to the ice edge* and in *percentage of overestimation and underestimation.*
- Sea ice type is monitored by looking at the stability/consistency of the area covered by multiyear ice. The standard deviation of the difference between daily and running 11-days mean of area covered by multiyear ice is monitored. The OSI SAF ice edge product is using the three SSMIS parameters, PR(19), GR(19,37) and PR(91) and the ASCAT parameter anisFMB. In the first step ice class (closed ice, open ice, and water) probabilities are estimated on the satellite swath projection for each passage. For SSMIS the low resolution data PR(19), GR(19,37) are combined. In the second step the ice class probabilities for each parameter are estimated on the OSI SAF 10 km grid on one day of data. The result is three probability estimates that are combined in a Bayesian approach.
- Validation of ice drift in the Arctic is performed against in situ drifters. The results are given in terms of error estimates: *STD,* and *bias* of the x and y components of the drift vector.

IV VALIDATION RESULTS

This section describes the results derived from the validation process of the product.

IV.1 Global NRT sea ice products

The OSI SAF sea ice products are validated operationally by the OSI SAF. Results from the validation of ice concentration, ice edge, ice type and ice drift are shown in this section.

Figure 1 shows results from comparing the OSI SAF sea ice concentration products with areas of known concentrations of 0% and > 95%. For > 95% the results are best during late autumn, winter and spring, and worst during summer melting. For 0% the results are more stable, with highest mean difference during late autumn and early winter.

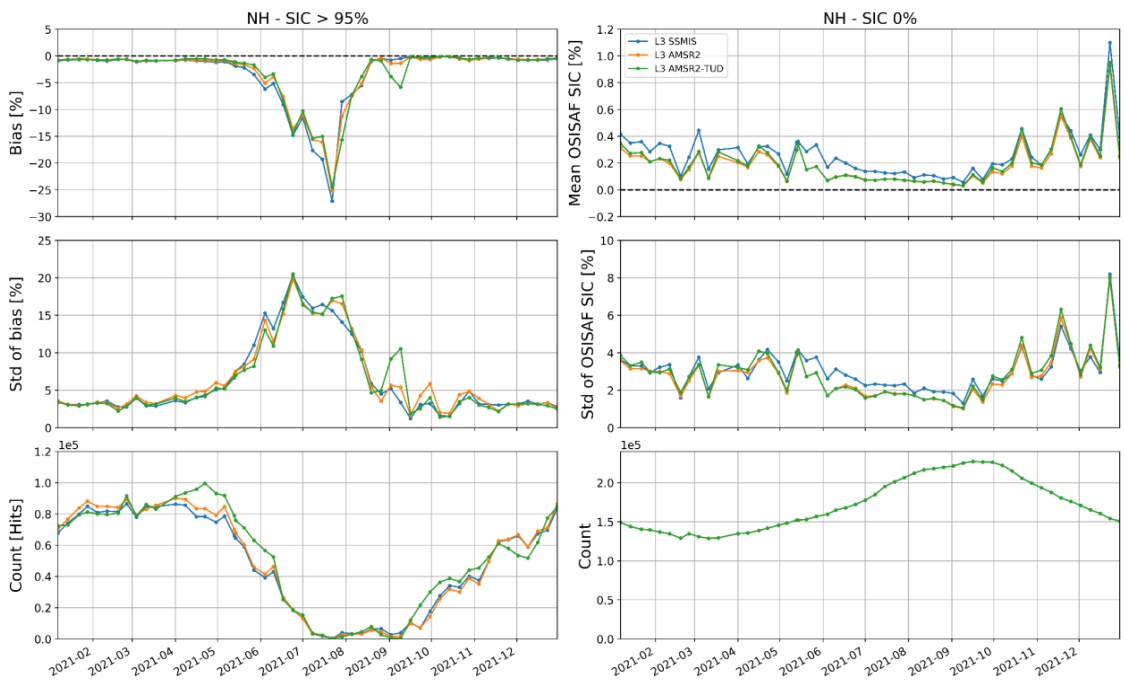

Figure 1: Time series for the SSMIS and AMSR2 Level 3 sea ice concentration products in the Northern Hemisphere (NH). The time series is diversified for those regions where the sea ice concentration (SIC) is greater than 95% (left column) and equal to 0% (right column). The small dot on the line indicates the date of the ice chart. Over water, which is where the SIC of the ice chart is equal to zero, the bias and the standard deviation of the bias represent the mean and the standard deviation of the OSI SAF product. In this case, the number of counts identifies the number of open water points in the ice charts.

Figure 2 shows results from comparing the OSI SAF ice edge product and sea ice charts for the period October 2019 to October 2020. These validation results represent areas close to the ice edge. Areas

further into the Arctic ice have not been included since this would have increased the validation "score". The validation results show the relative performance in the areas close to the ice edge and for example illustrate the problems finding the ice edge during late summer seen by the higher mean edge difference.

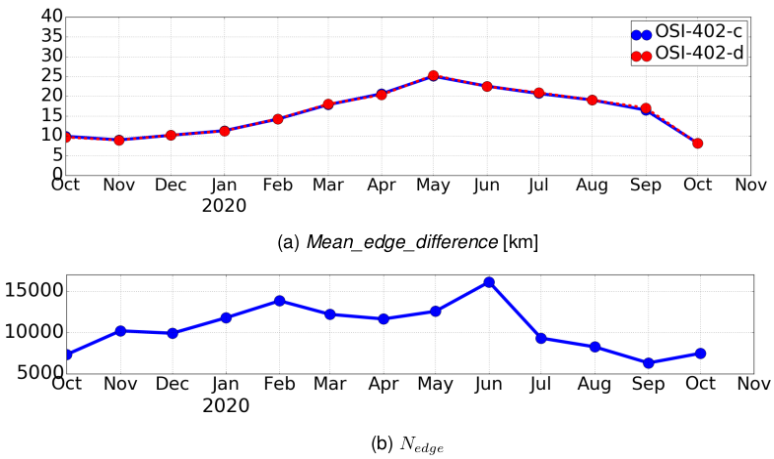

Figure 2: OSI SAF Sea Ice Edge product (OSI-402-d = SEAICE_GLO_SEAICE_L4_NRT_OBSERVATIONS_011_001 / edge dataset) compared with MET Norway Ice Service charts (= SEAICE_ARC_SEAICE_L4_NRT_OBSERVATIONS_011_002) on the Northern Hemisphere. In a) the mean difference between the ice edge in the two products are shown, and in b) the number of data points.

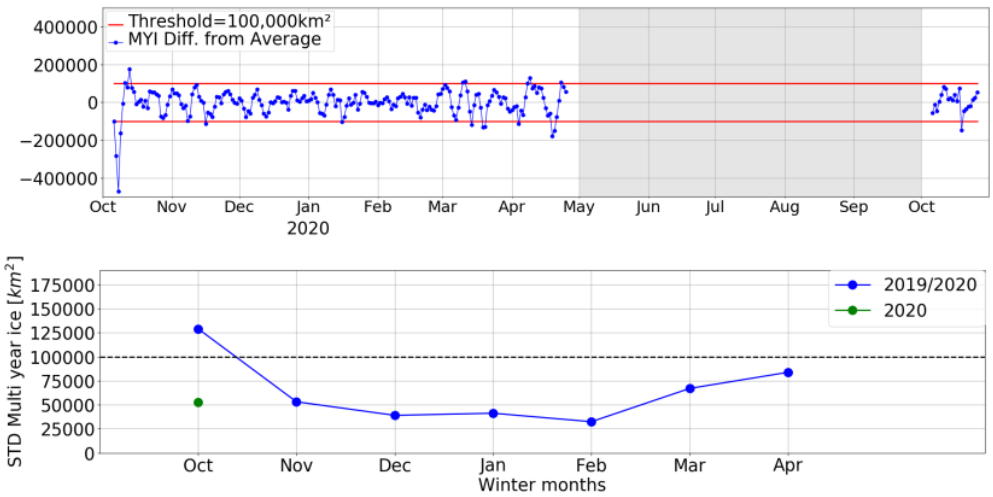

Figure 3: Monitoring of the OSI SAF Sea Ice Type product on Northern Hemisphere (=SEAICE_GLO_SEAICE_L4_NRT_OBSERVATIONS_011_001 / type dataset) by looking at stability/consistency of the area covered by multiyear ice. Top plot shows the daily 7-days mean difference and the lower plot the monthly std deviation values.

Figure 3 shows the results from monitoring the OSI SAF Sea Ice Type product in the Northern Hemisphere. The upper figure shows the daily variations and the lower figure the monthly std deviation, which is within the requirement of 100,000km2 (see OSI SAF Service Specification document, https://osi-saf.eumetsat.int/documentation/project-documentation) for all months except Oct 2019.

In Table 2 below, monthly validation statistics for the multi-sensor/merged sea ice drift product are reported.

Table 2: Validation results for the multi-sensor ice drift product in the Northern Hemisphere. Comparison (reference) data are drifting buoys and Envisat SAR (motion vectors); for details see https://osisaf-hl.met.no/lr-sea-ice-drift-validation. X and Y denote the 2 components of the drift vectors. b() is the bias and s() the standard deviation of the error (calculated as e(X) = Xproduct – Xreference, in km). Columns 6, 7 and 8 are respectively the slope, the intercept of the regression line, and the Pearson correlation coefficient between Product and Reference data pairs. N is the number of collocation data pairs.

Merged / Multi-sensor product (NH)								
Period	**b(X) [km]**	**b(Y) [km]**	**s(X) [km]**	**s(Y) [km]**	**a**	**b [km]**	**corr**	**N**
Jan2012	-0.291	-0.060	3.001	2.475	0.95	-0.298	0.98	266
Feb2012	-0.195	+0.043	2.275	2.173	0.95	-0.084	0.97	241
Mar2012	-0.150	-0.177	2.557	2.236	0.95	-0.156	0.94	265
Apr2012	-0.378	+0.534	3.096	3.085	0.87	+0.181	0.94	234
May2012	--	--	--	--	--	--	--	0
Jun2012	--	--	--	--	--	--	--	0
Jul2012	--	--	--	--	--	--	--	0
Aug2012	--	--	--	--	--	--	--	0
Sep2012	--	--	--	--	--	--	--	0
Oct2012	-0.355	+0.091	4.132	3.991	0.92	+0.089	0.95	436
Nov2012	-0.017	+0.073	3.802	3.795	0.95	+0.097	0.97	506
Dec2012	+0.096	+0.044	3.349	2.988	0.93	+0.192	0.96	526
Jan2013	+0.448	+0.096	3.173	3.076	0.96	+0.038	0.98	430
Feb2013	+0.187	-0.290	2.890	3.112	0.92	-0.051	0.93	354
Mar2013	-0.089	+0.542	3.761	3.682	0.92	+0.226	0.97	351
Apr2013	-0.163	-0.684	3.041	5.546	0.82	-0.263	0.92	358
May2013	--	--	--	--	--	--	--	0
Jun2013	--	--	--	--	--	--	--	0
Jul2013	--	--	--	--	--	--	--	0
Aug2013	--	--	--	--	--	--	--	0
Sep2013	--	--	--	--	--	--	--	0
Oct2013	-0.548	-0.596	3.769	3.968	0.95	-0.295	0.96	450
Nov2013	-0.113	-0.625	3.943	4.974	0.90	+0.237	0.95	424
Dec2013	+0.265	-0.205	3.170	3.071	0.95	+0.025	0.97	335
Jan2014	+0.404	+0.306	3.834	3.568	0.93	+0.151	0.96	328
Feb2014	+0.005	-0.325	3.138	3.322	0.94	-0.176	0.96	317
Mar2014	-0.120	-0.069	2.791	2.705	0.98	-0.057	0.96	427
Apr2014	-0.339	-0.147	3.351	3.118	0.97	-0.099	0.96	514
May2014	--	--	--	--	--	--	--	0
Jun2014	--	--	--	--	--	--	--	0
Jul2014	--	--	--	--	--	--	--	0
Aug2014	--	--	--	--	--	--	--	0
Sep2014	--	--	--	--	--	--	--	0
Oct2014	-0.225	+0.280	4.770	5.108	0.90	-0.148	0.93	413
Nov2014	+0.459	-0.101	3.508	3.463	0.95	+0.266	0.96	458
Dec2014	-0.187	-0.266	2.883	2.961	0.97	-0.243	0.97	477
Jan2015	+0.138	-0.301	3.202	3.035	0.93	-0.080	0.95	489
Feb2015	-0.669	-0.406	3.601	2.831	0.92	-0.336	0.96	403
Mar2015	-0.288	-0.387	3.730	4.334	0.82	-0.019	0.93	405
Apr2015	+0.172	-0.404	3.411	2.803	0.95	-0.101	0.96	366
May2015	--	--	--	--	--	--	--	0
Jun2015	--	--	--	--	--	--	--	0

Regarding the global sea ice concentration climate data record time series, the OSI SAF have two sets of sea ice concentration CDRs and ICDRs. OSI-458 + OSI-438 are available from 01.06.2002 to today with 16 days latency. OSI-450-a1 + OSI-430-a are available from 25.10.1978 to 30.09.2025.

IV.1.1 Validation procedure

The validation procedure addresses the closed ice and open water categories only and validation statistics for the two categories are shown in this report: The bias (the mean difference to the reference data) and the root mean square difference (RMSD) are reported for two categories; closed ice (100% ice concentration) and open water (0% ice concentration) and are calculated as described in Table 3. The OSI SAF ice concentration is referred to as OSISIC and the reference data ice concentration as RefSIC (SIC0 and SIC1 reference data), as described in Table 3. The reference data set is described in the OSI SAF sea ice concentration climate data record validation report, available from https://osi-saf.eumetsat.int/products/osi-450-a

Table 3: Statistical parameters that are output from the comparison analysis conducted for this report. The OSI SAF ice concentration is referred to as OSISIC and the reference data ice concentration as RefSIC.

Parameter	**Description**
Ice bias	Average of OSISIC – RefSIC for all grid cells where RefSIC = 100% ice (closed ice).
Water bias	Average of OSISIC – RefSIC for all grid cells where RefSIC = 0% (open water).
Ice RSMD	Root mean square difference of OSISIC – RefSIC for all grid cells where RefSIC = 100% ice (closed ice)
Water RSMD	Root mean square difference of OSISIC – RefSIC for all grid cells where RefSIC = 0% (open water).

IV.1.2 Validation results

The results for OSI-450-a1 and the previous version (OSI-450) assessments are reported in Table 4 as interannual mean bias and RMSD weighted by the yearly count of samples in each of the categories, closed ice (SIC1, from 2007 to 2015) and open water (SIC0, from 1979 to 2015). The OSI-450-a1 positive bias over 100% ice in the Southern Hemisphere (SH) is caused by the assessment method being applied to the unfiltered ("raw") OSI SAF sea ice concentration values, which can contain unphysical ice concentration values below 0% and above 100%. The same explanation applies to the OSI-450-a1 negative bias over open water in the SH.

The OSI-450-a1 performs better or equally well as the OSI-450 for all the derived statistical measures reported in Table 4 that are highlighted in green (except for a slight negative difference for the RMSD over 100% ice samples). Notably, OSI-450-a1 has less negative SIC1 bias in the NH and SH, and better SIC1 bias and RMSD.

Table 4: Results from the comparison of the OSI-450-a1 CDR v3 and OSI-450 CDR v2 with SIC1 (from 2007 to 2015) and SIC0 (from 1979 to 2015*) reference data for the Northern (NH) and Southern Hemisphere (SH), respectively. Bias and RMSD are interannual weighted means.*

Statistics	SIC1 (100% SIC)				SIC0 (Open water)			
	Bias		RMSE		Bias		RMSE	
	OSI-450	OSI-450-a*	OSI-450	OSI-450-a*	OSI-450	OSI-450-a*	OSI-450	OSI-450-a*
NH	-1.6	-1.0	3.2	3.3	0.6	0.5	1.9	1.7
SH	-1.6	0.3	3.9	3.9	0.2	-0.1	1.7	1.3

Statistics	SIC1 (100% SIC)				SIC0 (Open water)			
	Bias		RMSD		Bias		RMSD	
	OSI-450	OSI-450-a*	OSI-450	OSI-450-a*	OSI-450	OSI-450-a*	OSI-450	OSI-450-a*
NH	-1.6	-1.0	3.2	3.3	0.6	0.5	1.9	1.7
SH	-1.6	0.3	3.9	3.9	0.2	-0.1	1.7	1.3

More validation results are described in the OSI SAF sea ice concentration climate data record validation report, available from https://osi-saf.eumetsat.int/products/osi-450-a1.

The validation results for OSI-458 and OSI-438 will be added in March 2026.

V SYSTEM'S NOTICEABLE EVENTS, OUTAGES OR CHANGES

This section is dedicated to describing and track changes that may occur in the current operational system. It includes changes due to outages (data gaps), upstream data (e.g., addition or loss of a sensor, inclusion/removal of in-situ platforms), reprocessing, corrections, assimilated data, boundary conditions, among other changes that may impact product quality (Table 5).

Table 5: System's noticeable events, outages or changes

Date	Change/Event description	System version	other
2000.12.01, 2021.02.20 and 2021.02.21	SEAICE_GLO_SEAICE_L4_ REP_OBSERVATIONS_011_009: Data missing due to missing input data	V3.1	See Product User Manual (https://osi-saf.eumetsat.int//products/osi-450-a1)

VI QUALITY CHANGES SINCE PREVIOUS VERSION

This section aims to provide a short summary of the main changes in Product Quality between the previous and current version. In this regard, nothing to report in this version.